SMART PARKING SPACE APP PRESENTATION

DATCB/565

Competency 3 Assessment

Dannette Taylor

AGENDA

City Parking background and goals of the project

Objectives

Occupancy Rates & Evaluation

Lot 1 & 2 Occupancy Rates & Evaluation

Recommendations on implementation plan.

BACKGROUND

- The City is growing and so it the demand for parking.
- Develop strategies to accommodate the growth
- Evaluate possible solutions to parking and congestion

OBJECTIVES

Determine	Determine benefit of improving or developing infrastructure.
Advance	Take advantage of technology
Reduce	Reduce traffic congestion and improve air quality
Improve	Improve resident’s quality of life

DAILY OCCUPANCY

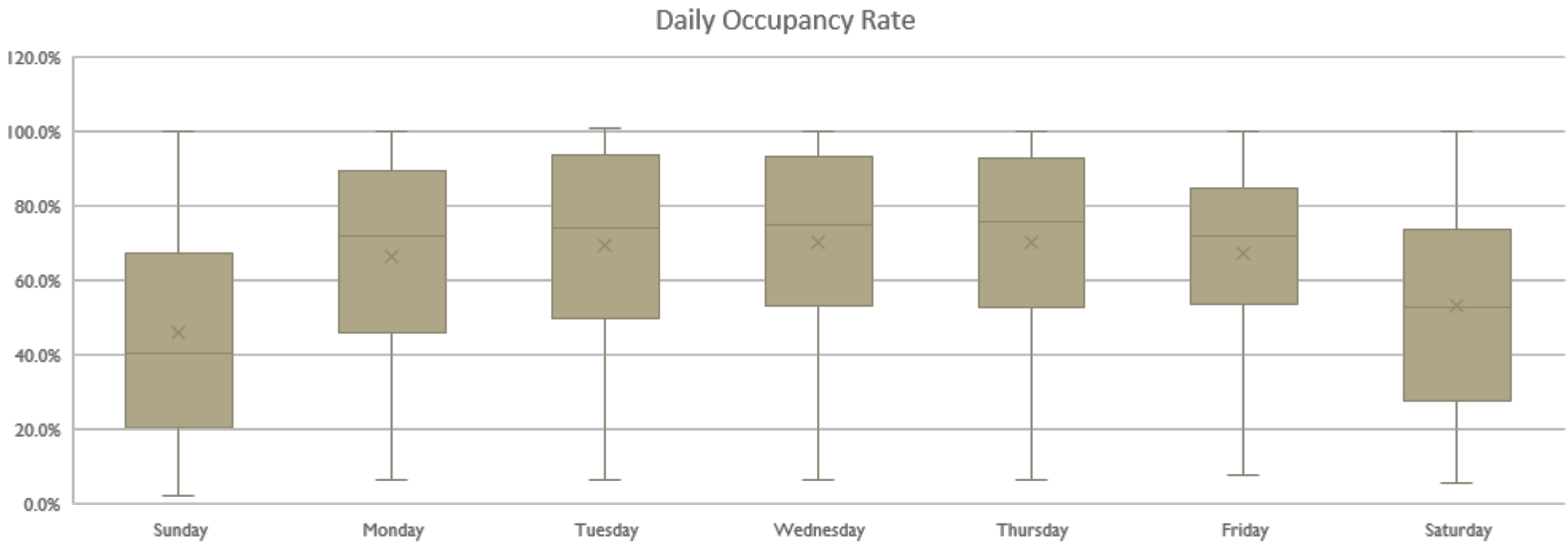

OCCUPANCY BY PARKING LOT

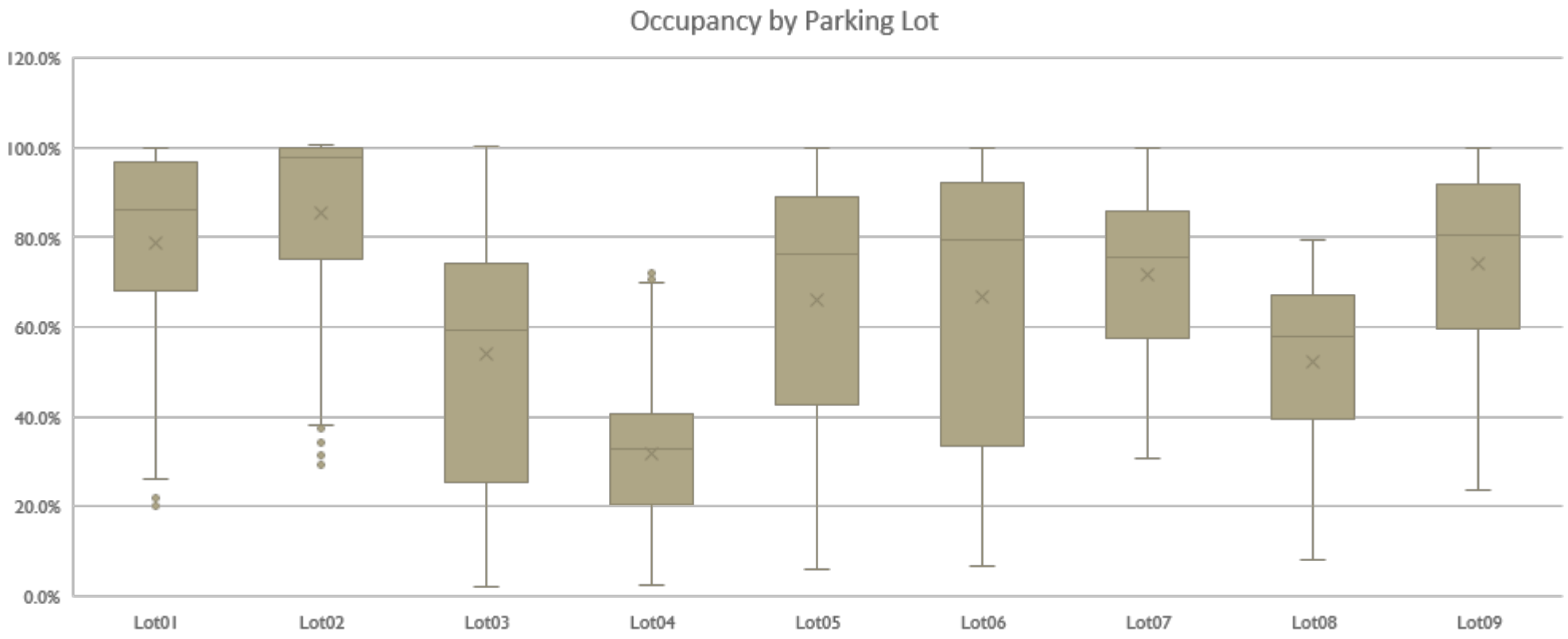

LOT01 BY DATE/TIME

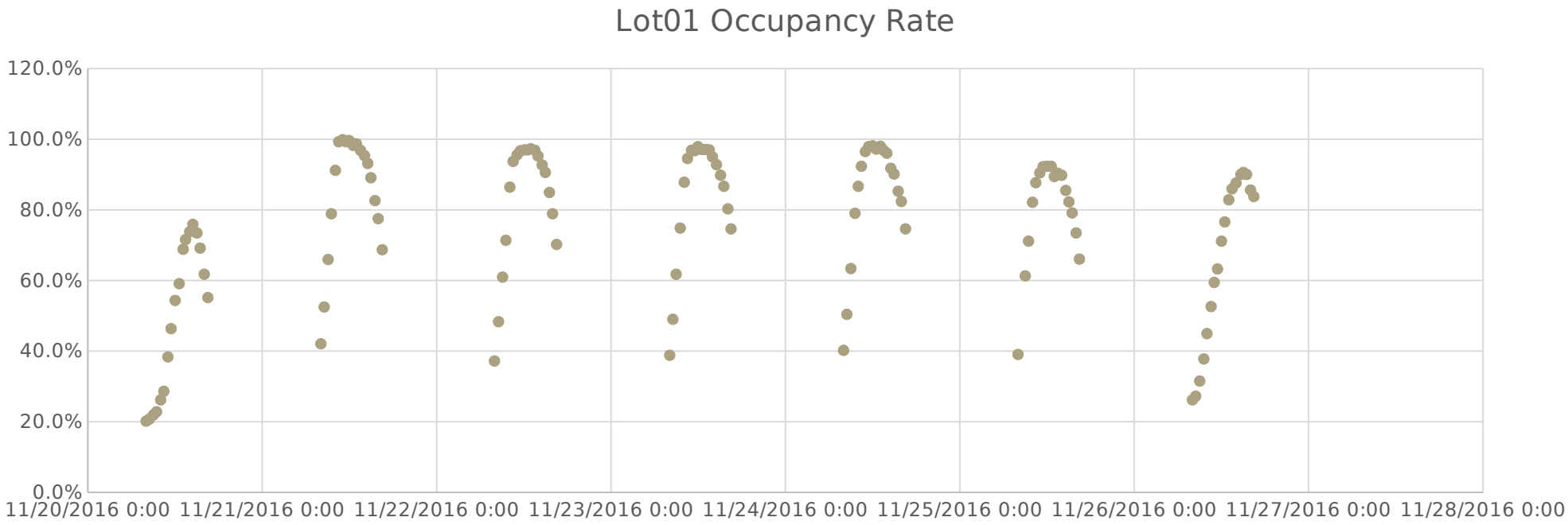

LOT02 BY DATE/TIME

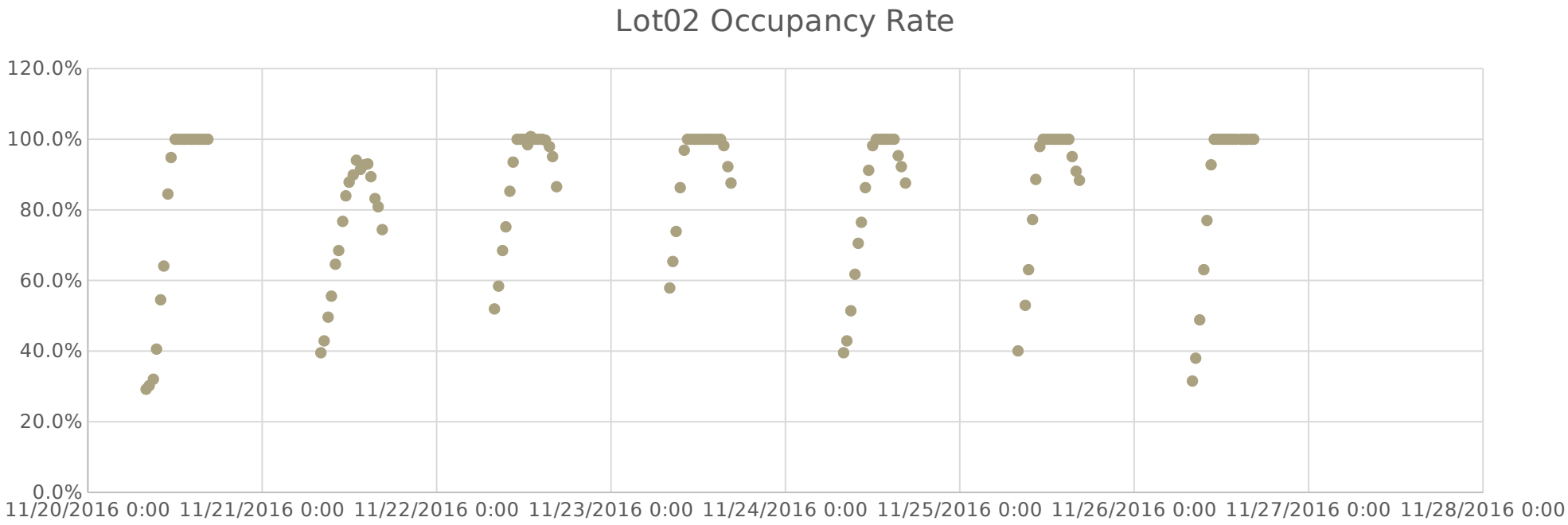



RECOMMENDATIONS

- Move forward with smart app for parking
- Explore providing shuttle bus
- Park and Ride lots
- Shorten commutes, enable parking at

  the first available location
- Provide less congestion and more occupancy

RECOMMENDATIONS

- Advanced Technology
- Minimizing Cruising Time
- Improving convenience
- Lowering accident risk
- These changes will improve the quality of life in our city.

IMPLEMENTATION

SMART PARKING APP PILOT ON LOT01 AND LOT02

IMPLEMENT ADDITIONAL LOTS IN PHASES

REFERENCES

Doane, D., & Seward, L. (2022). Applied Statistics in Business and Economics (7th ed.). McGraw-Hill.

Xiao, X., Jin, Z., Hui, Y., Xu, Y., & Shao, W. (2021). Hybrid Spatial–Temporal Graph Convolutional Networks for On-Street Parking Availability Prediction. Remote Sensing, 13(16), 3338. https://doi.org/10.3390/rs13163338